Smart Farming Platform

NAVJOT KAUR

4252310

Introduction

Agriculture is the backbone of many economies and the primary source of income for millions of people.

Farmers face continuous challenges such as unpredictable weather, declining soil health, pest infestations, and unstable market prices.

Limited access to real-time and reliable agricultural data makes informed decision-making difficult, especially for small and rural farmers.

Most existing digital farming solutions are complex, require constant internet connectivity, or lack local language support.

The **Smart Farming Platform** is a web-based intelligent system designed to provide crop health monitoring, yield prediction, weather and soil insights, and market trend analysis in a simple and accessible manner.

The platform aims to improve agricultural productivity, profitability, and sustainability through AI-driven and data-supported decisions.

Problem Statement

Farmers face increasing difficulties due to unpredictable weather patterns, soil degradation, pest attacks, and unstable market prices and many farmers, especially in rural areas, do not have access to accurate and real-time agricultural information. Due to the lack of timely data and intelligent tools, farmers struggle to monitor crop health and plan yields effectively. These challenges result in lower productivity, increased resource waste, and reduced farm profitability.

Objectives and Scope

- The objective of this project is to develop a smart farming web platform that helps farmers make better agricultural decisions using real-time data and AI-based insights.
- The system aims to monitor crop health using satellite imagery and machine learning techniques.
- It provides crop yield prediction to assist farmers in planning harvesting and resource usage.
- The platform delivers real-time weather and soil information to support informed farm management.
- Market trends and price information are displayed to help farmers improve profitability.
- The scope of the project includes the development of a web-based application accessible via a browser.
- External data sources such as weather APIs, satellite imagery, and agricultural datasets are integrated into the system.
- The platform is designed to be user-friendly, multilingual, and usable in areas with limited internet connectivity.

Target Group

- Small and medium-scale farmers who need easy access to crop, weather, and market information.
- Rural farmers with limited access to advanced digital farming tools and internet connectivity.
- Farmers who want to improve crop productivity and reduce losses using data-driven insights.
- Agricultural cooperatives and local farming communities interested in shared crop and market analysis.
- Government bodies, NGOs, and agricultural advisors supporting sustainable and smart farming practices.

Risks

Technical Risks: Integrating multiple external APIs and processing large satellite datasets may increase system complexity and affect performance.

Data Accuracy Risks: Incomplete or outdated weather, soil, or satellite data may reduce the accuracy of crop health analysis and yield predictions.

Connectivity Risks: Limited or unstable internet connectivity in rural areas may affect real-time data access and platform usability.

Adoption Risks: Farmers may be hesitant to adopt new digital technologies due to lack of technical knowledge or trust in AI-based systems.

Scalability Risks: Handling increased user load and large datasets may require further optimization and infrastructure upgrades.

Project Plan

Conception Phase: define problem statement, project goal, target users, requirements and system architecture.

Development Phase: Implement frontend and backend modules, integrating APIs and develop ML models.

Finalization Phase: Perform system testing, cloud deployment, deployment and continuous improvement.

Project Organization

This project is developed by me as an individual academic project. All the roles are performed by me:

1. **Developing:** Building backend and frontend features.
2. **Testing:** validating functionality and requirements.
3. **Documentation:** preparing project documentation, diagrams and reports.

Software Development Methodology

- The project follows an **Agile software development methodology** to support flexibility and iterative development.
- Agile allows requirements to evolve based on continuous feedback and implementation progress.
- The development process is divided into short iterations (sprints), with each sprint delivering incremental features.
- Regular testing and refinement are performed to ensure system quality and reliability.
- As this is an individual academic project, all roles including Product Owner, Developer, Tester, and Documenter are managed by the project author.
- The Agile approach helps reduce risks, improve adaptability, and ensure timely completion of project milestones.

Functional Requirements

User Management: Account creation with secure login and profile update/delete for farmers.

Crop Health Monitoring: Analyze crop conditions using satellite imagery and AI-based models to identify crop stress and health status.

Yield Prediction: Predict crop yield based on historical data, weather patterns, and soil conditions to support better planning.

Weather & Soil Information: Provide real-time weather updates and soil health data for informed agricultural decisions.

Market Trends & Prices: Display current market prices and trends for crops to help farmers maximize profitability.

Alerts & Notifications: Send alerts related to extreme weather conditions, crop risks, and important farming advisories.

Multilingual & Offline Support: Enable multilingual access and basic offline functionality for farmers in low-connectivity areas.

Non-Functional Requirements

Performance: Ensure fast system response time for data retrieval, analysis, and predictions.

Scalability: Support an increasing number of users, datasets, and API requests without performance degradation.

Security: Protect user data through secure authentication, encrypted storage, and safe API communication.

Usability: Provide an intuitive, simple, and farmer-friendly interface accessible with minimal technical knowledge.

Availability & Reliability: Ensure high system uptime and reliable access to services, including basic offline support.

Maintainability: Maintain a modular and well-documented codebase for easy updates and future enhancements.

Compatibility: Ensure the platform works across different devices and web browsers.

System Design

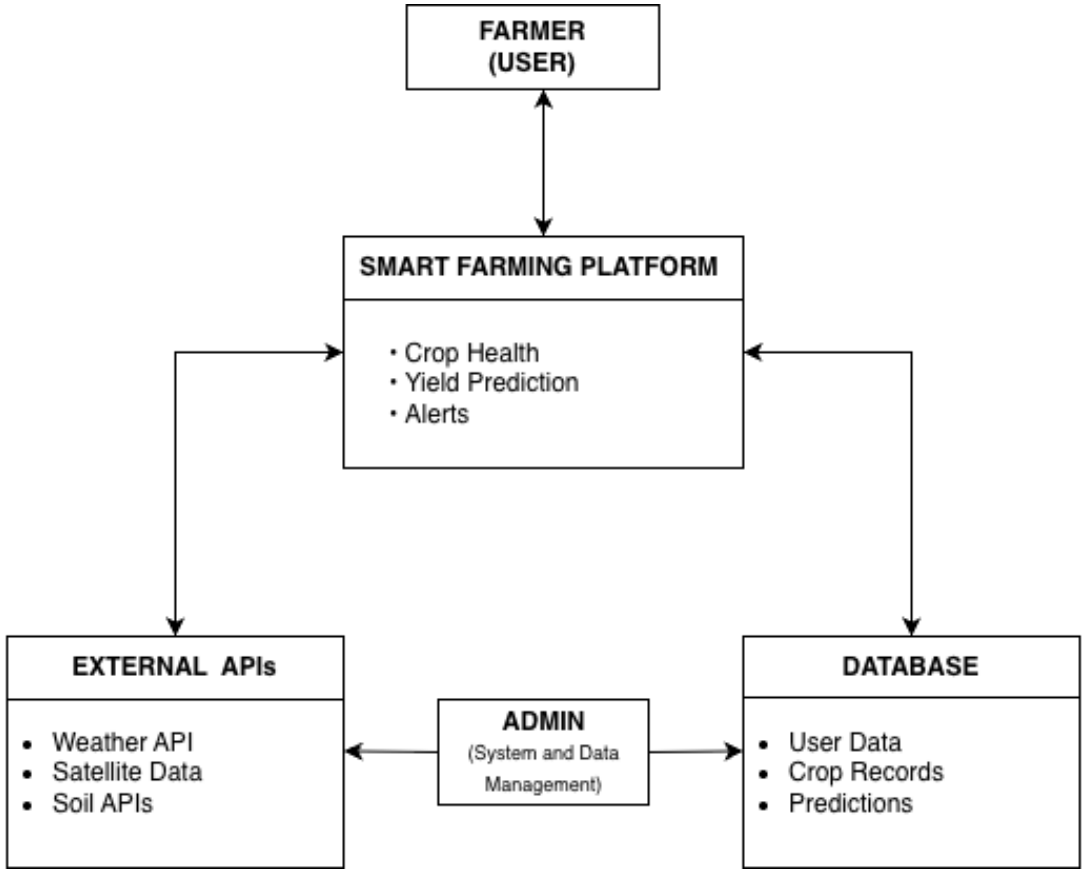

Architecture Decomposition Diagram

Components and Dependencies:

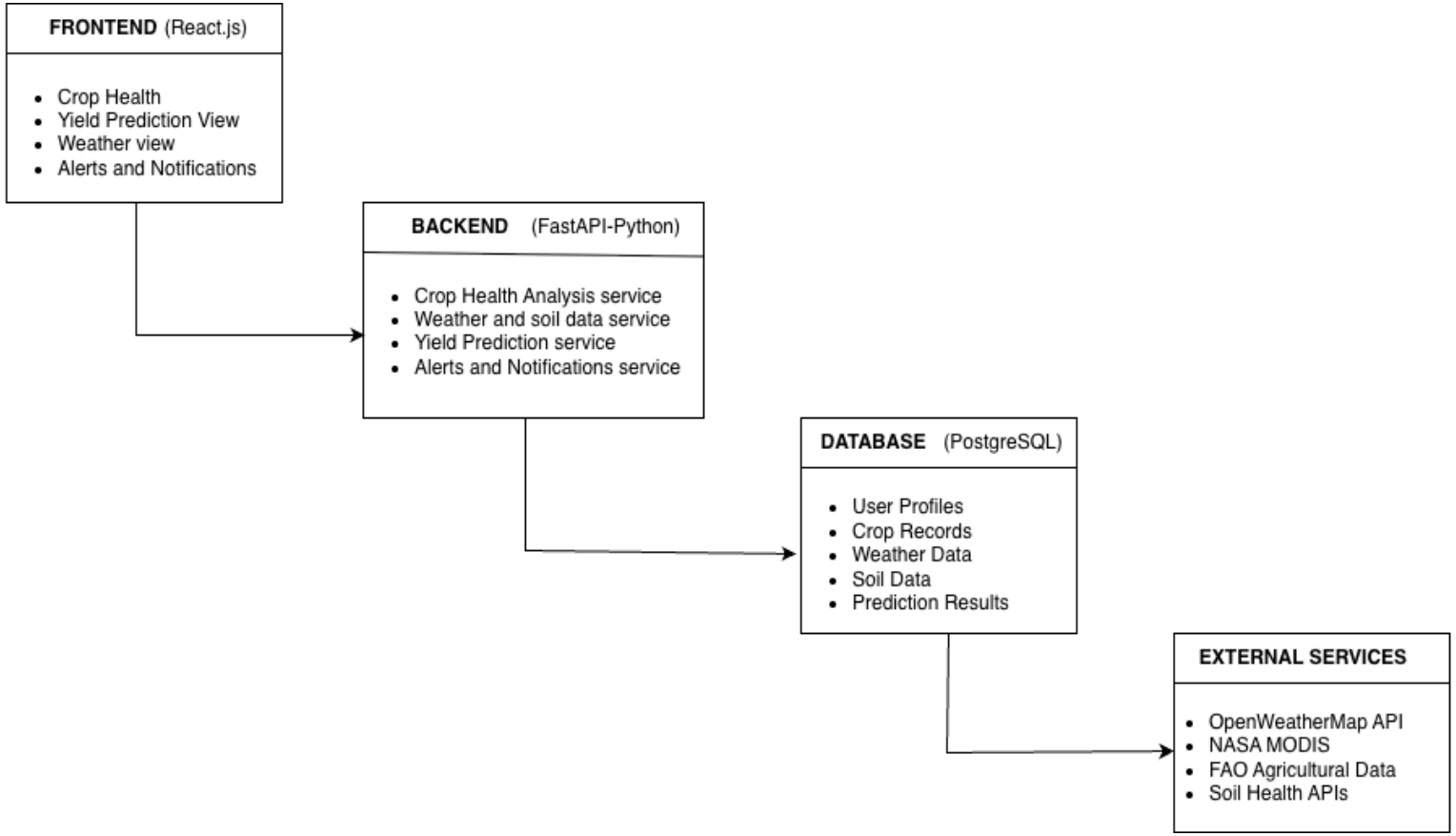

Summary of Architecture

The **Smart Farming Platform** follows a three-layer architecture :

- **Frontend (Presentation Layer- React.js) :**
  - Provides the user interface for the farmers
  - Displays the crop health information, yield prediction results, weather data and Alerts.
- **Backend (Application Layer- FastAPI):**
  - Act as core processing unit of system.
  - It:
    - Receives requests from the frontend.
    - Perform crop health analysis and yield prediction
    - Processes weather and soil data
    - Manages alerts
  - Communicates with database and external services

Summary of Architecture

Database(Data Layer - PostgreSQL):

Stores user data, crop data, soil data, weather data and prediction results.

This layer enables efficient data retrieval and support historical analysis

External Service:

Weather data from OpenWeatherMap API

Satellite data from NASA MODIS

Agricultural statistics from FAO

Soil health information from soil data APIs

Flow of Data:

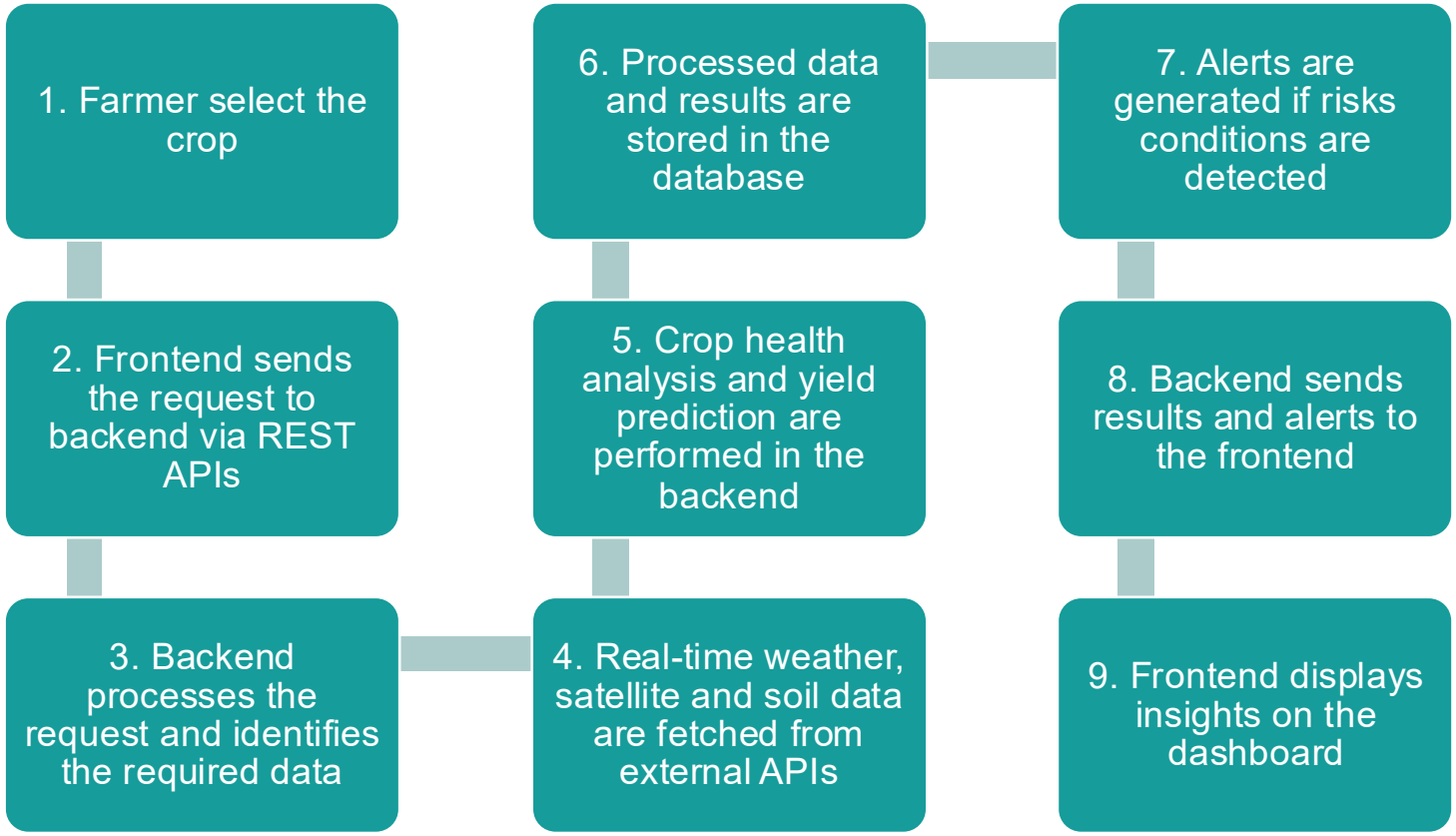
1. Farmer select the crop
2. Frontend sends the request to backend via REST APIs
3. Backend processes the request and identifies the required data
4. Real-time weather, satellite and soil data are fetched from external APIs
5. Crop health analysis and yield prediction are performed in the backend
6. Processed data and results are stored in the database
7. Alerts are generated if risks conditions are detected
8. Backend sends results and alerts to the frontend
9. Frontend displays insights on the dashboard

Glossary of Key Terms

- **AI:** Artificial Intelligence
- **Backend:** Processes data and perform calculations
- **Crop Health Monitoring:** checking the condition of crops to see if they are healthy or stressed
- **Database:** where all important information is stored
- **External APIs:** Third party services that provides weather, satellite, soil and agricultural data.
- **Frontend:** part of system user see and interact with
- **ML:** Machine Learning
- **Smart Farming Platform:** A web-based system that helps farmers make better farming decisions using data and technology.
- **Soil Health:** details about soil quality that affect growth.
- **Yield Prediction:** Estimating how much crop will be produced before harvesting.

Design Overview

The **Smart Farming Platform** is designed using a **layered architecture** to separate presentation, business logic, data processing and storage.

Design focuses on simplicity and usability, making the platform accessible to farmer with limited technical knowledge.

The system integrates AI-driven Analytics to monitor crop health and predicting the yields.

External data sources are used to provide real-time weather ,satellite and soil data.

The architecture supports scalability and maintainability allowing easy future enhancements.

Implementation Details

- **Frontend** is implemented using React.js to build and interactive and user-friendly interface.
- **Backend** is developed using FastAPI to manage requests, process data and integrate external APIs.
- **Database** implemented with PostgreSQL for structured and reliable data storage.
- **External APIs** are integrated for real-time data such as OpenWeatherMap API for real-time weather data.
- Used **GitHub** maintained ,clean ,commented and documented code.



Implementation Challenges and Learnings

- Integrating multiple external APIs required Careful handling.
- Balancing a simple user interface with complex data processing.
- Preparing quality data for accurate yield prediction models.
- Handling large satellite datasets for crop health analysis.
- Gained experience in API integration, modular design and applying AI in agriculture.

Conclusion

The Smart Farming Platform addresses key agricultural challenges using data and analysis.

The system uses weather, satellite and soil data to support better farming decisions.

A layered architecture helps in scalability, modularity and maintainability.

A platform provides farmers with simple and useful insights on crop health and yield prediction.

The project highlight practical use of software engineering and AI in agriculture.

References and Hyperlinks

- FastAPI. (2025). *FastAPI: High performance web framework for building APIs with Python*. https://fastapi.tiangolo.com/
- React. (2025). *React: A JavaScript library for building user interfaces*. Meta Platforms, Inc. https://react.dev/
- OpenWeatherMap. (2025). *OpenWeatherMap API documentation*. https://openweathermap.org/api
- NASA. (2025). *MODIS – Moderate Resolution Imaging Spectroradiometer*. https://modis.gsfc.nasa.gov/
- Food and Agriculture Organization of the United Nations. (2025). *FAO statistical databases*. https://www.fao.org/home/en
- PostgreSQL Global Development Group. (2025). *PostgreSQL documentation*. https://www.postgresql.org/docs/